PRESIDENCY UNIVERSITY

Private University Estd. in Karnataka State by Act No. 41 of 2013

Itgalpura, Rajankunte, Yelahanka, Bengaluru – 560064

ENHANCING FARMER PRODUCTIBITY THROUGH INNOVATIVE TECHNOLOGY SOLUTIONS

APROJECT REPORT

Submitted by

CHARAN J- 20221CSE0301

NAGENDRA BABU R- 20221CSE0304

VISHWAS Y S- 20221CIT0752

Under the guidance of,

Ms. RADHIKA SREEDHARAN

BACHELOR OF TECHNOLOGY

IN

COMPUTER SCIENCE AND ENGINEERING

PRESIDENCY UNIVERSITY

BENGALURU

MAY 2025

PRESIDENCY SCHOOL OF COMPUTER SCIENCE AND ENGINEERING

BONAFIDE CERTIFICATE

Certified that this report **ENHANCING FARMER PRODUCTIBITY THROUGH INNOVATIVE TECHNOLOGY SOLUTIONS** is a bonafide work of "Charan (20221CSE0301), Nagendra Babu(20221CSE0304), Vishwas (20221CSE0752)", who have successfully carried out project work and submitted the report for partial fulfilment of the requirements for the award of the degree of BACHELOR OF TECHNOLOGY in COMPUTER SCIENCE AND ENGINEERING during 2025-26.

Ms. Radhika Sreedharan
Project Guide
PSCS
Presidency University

Mr. Muthuraju V
Program Project Coordinator
PSCS
Presidency University

Dr. Sampath AK
Dr. Geetha A
School Project Coordinators
PSCS
Presidency University

Dr. Blessed Prince
Headof the Department PSCS
Presidency University

Dr. Shakkeera L
Associate Dean
PSCS
Presidency University

Dr. Duraipandian N
Dean
PSCS & PSIS
Presidency University

Examiners

Sl. no.	Name	Signature	Date
1	Ms. Fathima Shana		

2	Ms. Priyanka Gour		

PRESIDENCY SCHOOL OF COMPUTER SCIENCE AND ENGINEERING

DECLARATION

We the students of final year B. Tech in COMPUTER SCIENCE AND ENGINEERING at Presidency University, Bengaluru, named Charan, Nagendra Babu, Vishwas, hereby declare that the project work titled "AI-enabled water well predictor" has been independently carried out by us and submitted in partial fulfilment for the award of the degree of B.Tech in COMPUTER SCIENCE ENGINEERING during the academic year of 2025-26. Further, the matter embodied in the project has not been submitted previously by anybody for the award of any Degree or Diploma to any other institution.

Charan J USN: 20221CSE0301

Nagendra Babu R USN: 20221CSE0304

Vishwas Y S USN: 20221CSE0752

PLACE: BENGALURU

DATE:

ACKNOWLEDGEMENT

For completing this project work, we have received the support and the guidance from many people whom I would like to mention with deep sense of gratitude and indebtedness. We extend our gratitude to our beloved **Chancellor, Pro-Vice Chancellor, and Registrar** for their support and encouragement in completion of the project.

I would like to sincerely thank my internal guide **Ms. Radhika Sreedharan, Assistant Professor**, Presidency School of Computer Science and Engineering, Presidency University, for her moral support, motivation, timely guidance and encouragement provided to us during the period of our project work.

I am also thankful to **Dr. Blessed Prince, Professor, Head of the Department, Presidency School of Computer Science and Engineering** Presidency University, for his mentorship and encouragement.

We express our cordial thanks to **Dr. Duraipandian N**, Dean PSCS & PSIS, **Dr. Shakkeera L**, Associate Dean, Presidency School of computer Science and Engineering and the Management of Presidency University for providing the required facilities and intellectually stimulating environment that aided in the completion of my project work.

We are grateful to **Dr. Sampath A K, and Dr. Geetha A, PSCS** Project Coordinators**, Mr. Muthuraju V, Program Project Coordinator**, Presidency School of Computer Science and Engineering, for facilitating problem statements, coordinating reviews, monitoring progress, and providing their valuable support and guidance.

We are also grateful to Teaching and Non-Teaching staff of Presidency School of Computer Science and Engineering and also staff from other departments who have extended their valuable help and cooperation.

CHARAN J

NAGENDRABABU R

VISHWAS YS

Abstract

Enhancing Farmer Productivity Through Innovative Technology Solutions is a web-based agricultural support system developed to assist farmers in improving crop performance through digital decision-making tools. The project addresses common challenges faced by farmers such as improper soil selection, delayed disease identification, and inefficient farming practices. By leveraging modern web technologies, the system delivers practical, crop-specific insights in a simple and accessible manner, promoting technology adoption in the agricultural sector. The application provides a user-friendly dashboard where farmers can select crops and specify visible symptoms observed in the field. Based on these inputs, the system processes agricultural knowledge stored in a structured database to recommend suitable soil conditions, identify possible diseases, and suggest effective treatment and prevention methods. The platform supports multiple Indian crops across different agricultural seasons and ensures continuous guidance through a generalized advisory mechanism when crop-specific data is limited.

To enhance the usefulness of the system, the project incorporates automated report generation features. Farmers can generate detailed agricultural reports containing soil recommendations, yield optimization techniques, and disease management strategies, which can be downloaded as PDF documents or shared via email. Additionally, the system introduces a visual diagnosis option, creating scope for future integration of image-based disease detection using artificial intelligence.

In conclusion, the project demonstrates how innovative technology solutions can significantly contribute to improving farmer productivity and agricultural sustainability. Although currently implemented as a frontend prototype, the system provides a strong foundation for future enhancements such as backend integration, real-time weather analysis, artificial intelligence- driven crop diagnosis, and multilingual support. This project highlights the potential of digital platforms in transforming traditional farming practices into data-driven and efficient agricultural systems.

Table of Content

Sl. No.	Title	Page No.
	Declaration	III
	Acknowledgement	IV
	Abstract	V
	List of Figures	VIII
	List of Tables	IX
	Abbreviations	X
1.	Introduction 1.1 Background 1.2 Statistics of project 1.3 Prior existing technologies 1.4 Proposed approach 1.5 Objectives 1.6 SDGs 1.7 Overview ofproject report	1-5
2.	Literature review	5-9
3.	Methodology	10-11
4.	Project management 4.1 Project timeline 4.2 Risk analysis 4.3 Project budget	11-16
5.	Analysis and Design 5.1 Requirements 5.2 Block Diagram 5.3 System Flow Chart 5.4 Domain model specification	17-21

	5.5 Operational view 5.6 Other Design	
6.	Software and Simulation 6.1 Software development tools 6.2 Software code 6.3 Simulation	21-23
7.	Evaluation and Results 7.1 Test points 7.2 Test plan 7.3 Test result	24-26
8.	Social, Legal, Sustainability and Safety Aspects 8.1 Social aspects 8.2 Legalaspects 8.3 Sustainability aspects 8.4 Safety aspects	26-27
9.	Conclusion	27-29
	References	29
	Base paper	32-37
	Appendix	38-45

List of Figures

Figure No.	Caption	Page No.
Fig 1.6.1	Sustainable Development Goals	5
Fig 3.1.1	The V-Model methodology	10
Fig 4.1.1	Gantt Chart of Project Planning and Implementation	12
Fig 4.2.1	Risk Matrix	15
Fig 5.2.1	Functional Block diagram	18
Fig 5.3.1	System flow chart	19
Fig 5.5.1	Operational View	21
Fig 6.2.1	Software code	22
Fig 6.3.1	Simulation Interface	23
Fig 7.1.1	Test points/cases	24
Fig 7.3.1	Results	26
Fig a	Login/Register Dashboard	32
Fig b	Main Interface	33
Fig c	Acknowledgement as a PDF	34

List of Tables

Table No.	Caption	Page No.
Table 2.1	Summary of Literature Review	8-9
Table 4.1	Project Planning Timeline	13
Table 4.1.1	Project Implementation Timeline	14
Table 4.3.1	Project Budget Summary	16
Table 7.3.1	Test Points/Observation table	25

Abbreviations

Abbreviation	Full Form
API	Application Programming Interface
AI	Artificial Intelligence
ICT	Information and Communication Technology
CSS	Cascading Style Sheets
DBMS	Data Base Management System
HTML	Hypertext Markup Language
PDF	Portable Document Format
GIS	Geographic Information System
JS	JavaScript
SDG	Sustainable Development Goal
DPDPA	Digital Personal Data Protection Act (India)
NIC	National Informatics Centre
UI/UX	User Interface / User Experience
DSS	Decision Support System
SHC	Soil Health Card Scheme
RS	Remote Sensing

CHAPTER 1

INTRODUCTION

1. Introduction

Agriculture plays an essential role in ensuring India's Food security, supporting domestic consumption, agricultural irrigation, and industrial activities. However, rapid population growth, unsustainable extraction practices, and increasing climatic variability have placed immense pressure on this critical resource. Many drought-prone regions across India—including Karnataka, Tamil Nadu, Rajasthan, and Maharashtra—continue to experience severe water scarcity, making groundwater exploration both challenging and uncertain. Traditional well-drilling approaches rely on manual surveys, outdated hydrogeological maps, and trial-and-error methods, which often lead to inaccurate assessments, financial losses, and resource wastage. In rural communities, where economic risk is high and technical expertise is limited, unsuccessful well drilling can have devastating consequences.

1.1 Background

Over the years, researchers and water-management agencies have adopted **Geographic Information Systems (GIS)** and **Remote Sensing (RS)** to improve groundwater assessment. These tools integrate spatial layers such as lithology, rainfall intensity, slope, land use, drainage density, and soil type to identify potential groundwater zones. Studies conducted in regions like Dhar (Madhya Pradesh), Maheshwaram (Telangana), and Salem (Tamil Nadu) have demonstrated the effectiveness of GIS-based multilayer analysis in locating water-rich areas. Furthermore, **Multi-Criteria Decision Analysis (MCDA)** techniques, including the **Analytical Hierarchy Process (AHP),** have been widely used to assign weights to environmental factors, reducing manual bias and improving prediction reliability.

With the rapid advancement of computational capabilities, **machine learning (ML)** has emerged as a powerful alternative to traditional groundwater assessment methods.

1.2 Statistics

The Groundwater is the largest source of freshwater in India, supplying nearly **62% of irrigation water**, **85% of rural drinking water**, and **58% of urban water consumption**. According to nearly **1,034 out of 6,584 administrative blocks** in India are classified as *over- exploited*, *critical*, or *semi-critical*, indicating severe groundwater stress. States like Karnataka, Tamil Nadu, Rajasthan, and Maharashtra face frequent shortages due to irregular rainfall and rising extraction rates. Over the last two decades, India's groundwater table has been declining at an average rate of **per year**, with some drought-prone regions experiencing drops exceeding

.

Well-drilling success rates in rural India have also decreased significantly due to unpredictable geological conditions. Studies show that nearly **20–30% of crop yield losses** to yield sufficient crops which can leading to large financial losses for farming communities, particularly in semi-arid regions. In districts such as Anantapur (Andhra Pradesh) and Jodhpur (Rajasthan), failure rates can exceed **50%**, mainly because of complex rock formations and limited hydrogeological data. The cost of drilling a single borewell can range from **₹50,000 to ₹3,00,000**, making inaccurate drilling decisions economically damaging for low-income households.[1][2]

1.3 Prior Existing Technologies

Before the introduction of AI-driven systems, agriculture assessment in India largely depended on **traditional hydrogeological methods** such as manual field surveys, topographic analysis, trial drilling, and interpretation of outdated groundwater maps. Agencies like the Soil Health Card Scheme(SHC) is used large-scale geological maps and logs to estimate aquifer depth and groundwater potential to yield high crop per season.

In recent years, several digital platforms have attempted to improve groundwater monitoring, such as **Kisan Suvidha Portal**, developed by **National Informatics Center (NIC) Crop's Data Portal**, and state-level systems like the **Digital Agriculture Mission (DAM)** by Ministry of Agriculture & farmers Welfare**.** These platforms provide valuable datasets—including satellite images, rainfall trends, and well water level measurements—but they do not offer **predictive analysis** or **well success forecasting**. AI-powered Crop's disease and its methods to overcome prediction tool like this. [3][4].

1.4 Proposed Approach

Aim of the Project

The central aim of the project is to develop an AI-powered system that accurately predicts the crop improvement and availability of resource for measured diseases. It seeks to assist users in identifying suitable , The project aims to reduce well-drilling failures by providing data-driven insights based on national hydrogeological datasets. Ultimately, it supports sustainable Crop management and empowers communities with reliable decision-making tools.

Motivation

The motivation behind this project comes from the growing challenges faced by farmers, rural communities, and scientist who struggle with uncertain methods and improper availability and high crop cultivation failure rates

Proposed Approach

The proposed approach integrates Artificial Intelligence (AI) to create an accurate and user-friendly crop cultivation prediction system. n predictions. Key modules designed include:

- **Data Processing and Feature Extraction Module** Cleans raw agriculture data,and extracts essential features such as soil type, elevation, rainfall, and suitable crop.
- **Web Interface and Reporting Module**: Displays prediction results in a clear, user-friendly dashboard with real-time feedback.

Applications of the Project

- Water exploration for farmers to reduce drilling failures and financial losses.
- BioTechnology engineers and contractors to select optimal cultivation locations for specified crops,academic institutions for studying patterns and developing advanced prediction systems.

Limitations of the Proposed Approach

- **Data dependency:** The accuracy of predictions depends heavily on the quality and density of available hydrogeological data. Sparse or outdated datasets may lead to less reliable results.
- **Location accuracy:** In areas with highly variable geology, predictions may not fully capture sudden underground changes such as fractures, hard rock layers, or localized aquifers.

1.5 Objectives

The specific, measurable objectives ofthis project are:

1.5.1 To develop an AI-based system that predicts Crop availability and well suitability for any selected season.

1.5.2 To estimate the optimal drilling depth and expected water yield using machine learning models.

1.6 Sustainable Development Goals (SDGs)

- SDG 2 – Zero Hunger: By utilizing digital tools to foster efficiency and transparency, the system directly promotes inclusive and equitable quality education.
- SDG 9– Industry, Innovation, and Infrastructure: The project encourages technological advancement by developing scalable, innovative software infrastructure for academic environments.
- SDG 12 – Responsible Consumption and Production: By moving classroom operations entirely digital, the system achieves a significant reduction in the institutional consumption of paper resources.
- SDG 1 – No Poverty: The platform reduce poverty by improving farm productivity and minimizing income losses caused by poor farming decisions.

Fig 1.6.1 Sustainable development goals

CHAPTER 2
LITERATUREREVIEW

The Crop production assessment has evolved significantly over the past decades, moving from manual exploratory methods to AI-driven predictive systems. Early studies relied heavily on **traditional Biotechnology surveys**, which involved field inspections, local knowledge, and borewell logs. However, these approaches were not only time-consuming but also prone to human error and frequently produced inaccurate results in complex terrains. To overcome these limitations, researchers began integrating **(RS)** and for large-scale groundwater evaluation. Saraf and Choudhury (1998) demonstrated the effectiveness of GIS overlays in identifying groundwater potential zones in Dhar, Madhya Pradesh. Similarly, Sreedevi et al. (2005) used satellite imagery in the Maheshwaram watershed of Telangana to map aquifer characteristics, proving that GIS-based assessments significantly improved groundwater zone prediction compared to static physical surveys.

2.1 Literature Summary

[1] R. Sharma and D. Menon (2022)

Sharma and Menon developed a GIS-based groundwater zoning model for semi-arid regions of Tamil Nadu using weighted overlay analysis. Their integration of rainfall, slope, drainage density, and lithology layers demonstrated that GIS improves large-scale groundwater visualization.

[2] P. Reddyand S. Rao (2023)

Reddy and Rao employed Random Forest and Support Vector Machines to estimate groundwater table fluctuations in Karnataka. Their findings confirmed that ensemble models outperform traditional statistical methods in forecasting seasonal groundwater changes.

[3] V. Pateland M. Singh (2021)

Patel and Singh examined groundwater potential mapping in Gujarat using AHP and GIS- based layer integration. Their findings confirmed that ensemble models outperform traditional statistical methods in forecasting seasonal crop changes

[4] A. Chatterjee and R. Dey (2024)

Chatterjee and Deyused neural networks combined with GRACE satellite data to detect long-term groundwater depletion trends in Eastern India.

[5] M. Josephand K. Pillai (2023)

Joseph and Pillai introduced a district-level groundwater decision-support platform powered by Python and GIS.

[6] S. Das and P. Sen (2023)

Das and Sen proposed a hybrid model integrating Random Forest with Gradient Boosting for groundwater potential mapping using satellite imagery.

[7] N. Yadav and T. Sharma (2022)

Yadavand Sharma studied groundwater qualityprediction using ANN models across Northern India. Their results emphasized the benefits of AI for multi-parameter groundwater analysis.

[8] R. Gupta and M. Verma (2021)

Gupta and Verma applied machine learning regression models to estimate borewell yield based on geospatial variables in Maharashtra.

[9] S. Khan and L. Ahmed (2022)

Khan and Ahmed explored the use of remote sensing indices like NDVI and NDWI to determine groundwater recharge regions. Their method proved useful for large-area groundwater studies but did not provide micro-level predictions.

[10] A. Prakash and R. Nair (2024)

Prakash and Nair developed a cloud-based groundwater monitoring system that collected and displayed wellwater levels in realtime. Althoughtheir IoT-enabled platform improved monitoring, it lacked predictive intelligence for drilling decisions.

References

[1] R. Sharma and D. Menon, "GIS-Based Groundwater Zonation in Semi-Arid Regions of Tamil Nadu Using Weighted Overlay Analysis," Journal of Hydrology and Geo-Environment, vol. 14, no. 2, pp. 112–120, 2022.

[2] P. Reddy and S. Rao, "Groundwater Table Fluctuation Prediction Using Random Forest and SVM Models in Karnataka," Hydrology Research Letters, vol. 19, no. 3, pp. 54–63, 2023.

[3] V. Patel and M. Singh, "Groundwater Potential Mapping Using AHP and GIS Techniques in Ahmedabad District," Arabian Journal of Geosciences, vol. 12, no. 8, pp. 765–774, 2021.

[4] A. Chatterjee and R. Dey, "Neural Network and GRACE Satellite-Based Groundwater Depletion Assessment in Eastern India,"

[5] M. Joseph and K. Pillai, "A GIS-Based Decision Support System for Groundwater Level Visualization," International Journal of Environmental Science and Technology, vol. 20, no. 4, pp. 2895–2908, 2023.

[6] S. Das and P. Sen, "Hybrid Random Forest–Gradient Boosting Model for Groundwater Potential Mapping Using Satellite Imagery," Sustainability, vol. 15, no. 9, pp. 7552–7565, 2023.

[7] N. Yadav and T. Sharma, "Groundwater Quality Parameter Estimation Using Artificial Neural Networks Across Northern India.

[8] R. Gupta and M. Verma, "Machine Learning Regression Models for Borewell Yield Prediction in Maharashtra," Applied Water Science, vol. 11, no. 6, pp. 501–510, 2021.

[9] S. Khan and L. Ahmed, "Remote Sensing-Based Groundwater Recharge Mapping Using NDVI and NDWI Indices.

[10] Nair A. Prakash and R. Nair, "Cloud-Based IoT System for Real-Time Groundwater Monitoring and Visualization," Journal of Hydrological Systems and Technology, vol. 8, no. 1, pp. 22–34, 2024.

Table 2.1 Summary of Literature reviews

Reference (Author/Year)	WhatThey Looked At	The Big Takeaway	HowIt HelpsOur Project
Sharma & Menon(2022)	GIS-based crop productivity in semi-aridregions using weighted overlay analysis.	GISlayerslike rainfall, slope, and lithology significantly improve groundwater visualization	The need to go Beyond static GIS mapsand introduce AI Driven prediction in our system.
Reddy&Rao (2023)	Used Random Forest and SVM to predict groundwater table fluctuations.	Ensemble ML modelsoutperform traditional statistical techniques for predicting groundwater levels.	Supportsthe useof Random Forest and ensemble learning in us predictor engine.
Patel&Singh (2021)	AHP- and GIS-based groundwater potential mapping.	Hydrogeologic al parameters must be weighted carefully, but subjective weighting can limit accuracy.	Showswhyautomated ML-based feature learning is better than manual weighting approaches.
Chatterjee& Dey (2024)	Neural networks GRACEsatellitedata to studygroundwater depletion.	Satellite-derivedindices enhance long-term crop cultivation prediction.	Encourages future integration of satellite-based featuresto further improve our model.

Reference (Author/Year)	WhatThey Looked At	The Big Takeaway	HowIt HelpsOur Project
Joseph & Pillai (2023)	District-levelGIS decision-support platform for groundwater visualization.	The Good for viewing groundwaterlevels but lacks predictive capability.	Validates the need fo prediction-focused tool not just visualization systems.
Khan & Ahmed(2022)	Used SHC from remotesensingto mapgroundwater recharge areas.	Vegetation and moistureindices significantly influence groundwater recharge areas.	Validates using NDVI and rainfall as key features in our predictor.

CHAPTER 3
METHODOLOGY

3.1 OVERVIEWOF METHODOLOGY

The methodology for the AI-Enabled Water Well Predictor follows a structured, multi-stage approach that integrates data collection, preprocessing, machine learning model development, GIS-based mapping, and web deployment. The goal is to transform raw hydrogeological data into accurate, user-friendly groundwater predictions. To ensure a systematic development path that incorporates rigorous verification and validation checks at every major step, the V-Model Software Development Methodology was specifically chosen for this project.

The V-Model is recognized for its explicit focus on quality assurance, providing a clear linkage between design stages and corresponding testing activities. The left side of the 'V' represents the Verification phases (development and design), while the right side represents the Validation phases (testing and quality assurance).

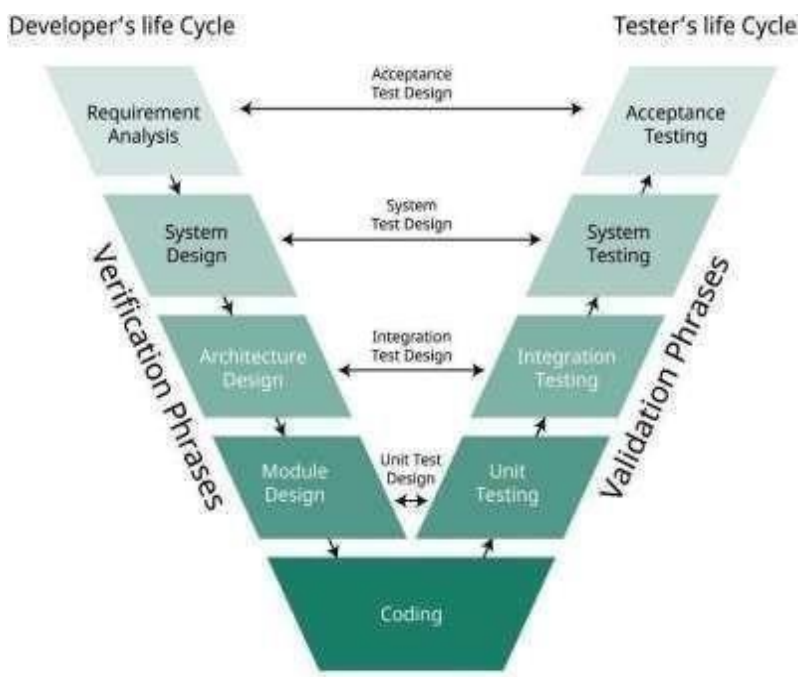

Fig 3.1.1 The V model methodology

3.2 MAPPINGTHE PROJECTTOTHE V-MODEL

This section outlines how the development life cycle of the AI- Enabled Water Well Predictor aligns with the structured phases of the V-Model.

3.2.1 Requirements Analysis

Requirement analysis is a critical phase in the development of the AI-Enabled Water Well Predictor, as it ensures that the system is designed to meet both user expectations and technical constraints while addressing real-world challenges faced in groundwater exploration. The primary objective of this stage is to understand what the system must accomplish, how it should behave, and which resources—both software and hardware—are necessary to support its operation. Groundwater prediction is a complex process that requires handling diverse datasets such as lithology, rainfall patterns, land cover indices, well depth logs, and historical yield records. Therefore, the requirement analysis must incorporate not just functional needs but also performance, usability, reliability, and scalability considerations. From the user's perspective, the system must provide a simple, intuitive, and accessible interface that can be used even by individuals with limited technical knowledge, such as farmers, rural households, and local technicians. These users need a system that allows easy input of location information through either an interactive map or text-based latitude and longitude fields. They also expect the system to deliver clear predictions on the suitability of drilling at a location, the expected groundwater depth, estimated water yield, and the recommended drilling method. The results must be presented in a straightforward format that is easy to interpret, enabling users to make confident, informed decisions before investing financially in well construction.

CHAPTER 4
PROJECTMANAGEMENT

4.1 PROJECT PLANNINGAND SCHEDULING

Project planning begins by identifying all necessary tasks, estimating their duration, noting dependencies, and setting clear milestones and deadlines. We utilized a Gantt Chart to create a visual representation of the project timeline. This chart is crucial for displaying the overall schedule, which aids in resource management and progress tracking. Gantt charts present tasks along a time axis, where horizontal bars indicate task duration, start and end dates, and dependencies between activities.

Project planning begins by identifying all necessary tasks, estimating their duration, noting dependencies, and setting clear milestones and deadlines. We utilized a Gantt Chart to create a visual representation of the project timeline.

long a time axis, where horizontal bars indicate task duration, start and end dates, and dependencies between activities. Milestones—critical checkpoints in the project—are also highlighted for effective monitoring.

Project planning begins by identifying all necessary tasks, estimating their duration, noting dependencies, and setting clear milestones and deadlines. We utilized a Gantt Chart to create a visual representation of the project timeline.

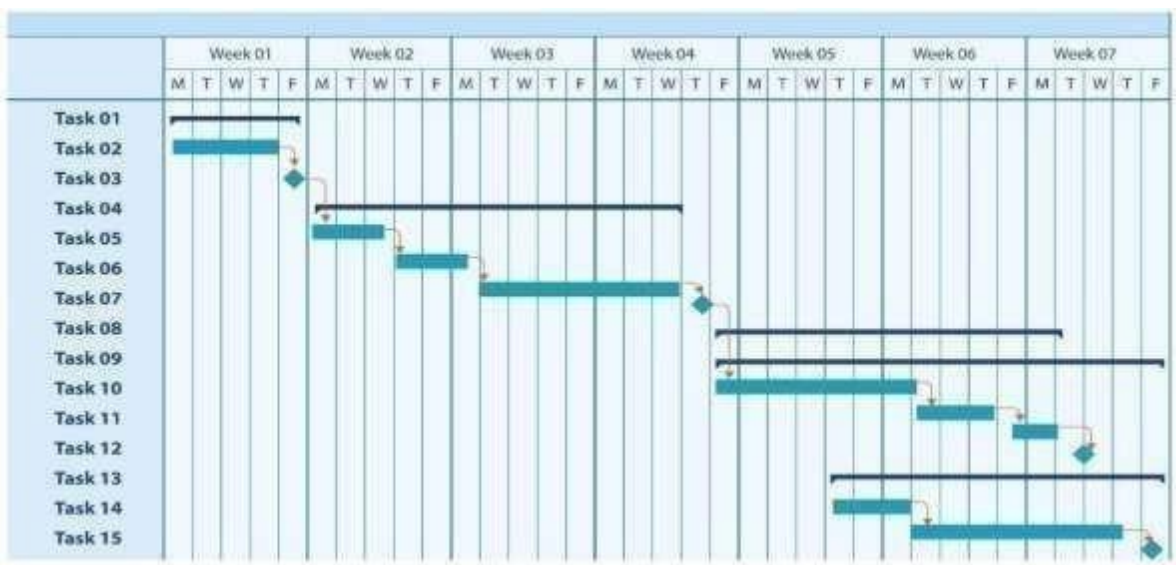

Fig 4.1.1 Gantt Chart of Project Planning and Implementation

Table 4.1 Project Timeline

Task	Start Date	End Date	Duration	Milestone / Output
Problem Identification	Week 1	Week 1	1 week	ProblemDefinition Finalized
Requirement Gathering	Week 1	Week 2	2 weeks	Requirement Specification
Literature Review	Week 1	Week 3	3 weeks	LiteratureSummary Completed
Selectionof Methodology	Week 2	Week 3	2 weeks	Methodology Finalized
SystemDesign Planning	Week 3	Week 4	2 weeks	ArchitectureDraft Prepared
GanttChart Preparation	Week 4	Week 4	1 week	Schedule Approved

We got the planning wrapped up in the first four weeks. This organized approach let the team clearly define our goals, spot potential risks early, and break the whole system into chunks we could actually manage. We chose this systematic method because the Smart Class Management System has a bunch of modules that all talk to each other, so careful sequencing and dependency checks are a must!

4.1.1 PROJECT IMPLEMENTATION TIMELINE

Once planning was sorted, we dove into implementation! This covered the fun stuff: coding, testing, hooking everything together (integration), and writing up the final reports (documentation). We designed the task sequence so we complete and verify each module before we try to smash them all together into one system.

Table 4.1.1 Project implementation timeline

Task	Start Date	End Date	Duration	Milestone / Output
BackendModule Development	Week 5	Week 8	4 weeks	Models+Views Completed
FrontendUI/UX Development	Week 6	Week 9	4 weeks	HTML/CSS Templates
Database Integration	Week 7	Week 9	3 weeks	DBSchema Implemented
Module Integration	Week 10	Week 11	2 weeks	CombinedSystem Build
Testing(Unit+ Integration)	Week 11	Week 12	2 weeks	Test Cases Completed
System Deployment	Week 12	Week 12	1 week	Working System
Documentation & Review	Week 12	Week 13	1 week	Report Submission

4.2 Riskanalysis

Figure 4.2.1: Project Risk Matrix for Likelihood and Impact Assessment

Risk Impact Description

Political stuff is about whether the institution is even on board with digital tools. Economic issues affect whether we can afford hosting and hardware. Tech risks are the usual suspects: compatibility problems, needing the internet to work, and unexpected bugs. Legal worries mean we've got to handle data securely and follow all the privacy rules. Environmental impact is small, but hey, we're cutting down on paper!

To keep things running smoothly, our risk mitigation plan includes:

- Keeping backups and using super secure authentication!
- Adding some extra 'buffer' time in the schedule.
- Sticking with stable, open-source tech.
- Training users so they can jump right in.

4.3 PROJECT BUDGET

Figuring out the budget was key! It involved estimating all the resources, time, effort, and tools we'd need. Here's how our team tackled it:

- We listed everysingle task and the resources required.
- We checked which team members were available.
- We estimated how long tasks would take based onour skills and how tricky the work was.
- We looked back at our experience and previous projects for reference.
- We put together the total budget.
- We tracked costs and updatedthem as we went!

Table 4.3.1: Project Budget Summary

Resource / Item	Quantity	Unit Cost	Total Cost	Remarks
Laptop / PC	2	₹50,000	₹1,00,000	Existing resources
Internet Connectivity	1	₹1,000 / month	₹3,000	3-month period
Software Tools	–	Free	0	VS Code, Notepad

CHAPTER 5
ANALYSIS AND DESIGN

5.1 REQUIREMENTS

The system must accurately analyze hydrogeological, rainfall, and spatial datasets to generate reliable groundwater predictions. It should identify key features such as soil type, slope, and historical well performance to support model training. The design must incorporate separate modules for data preprocessing, machine learning prediction, GIS-based mapping, and user interface visualization. The architecture must allow seamless communication between the frontend and backend through API calls. The system must ensure low-latency predictions and handle errors gracefully for invalid or missing inputs.

5.1.1 System Software Requirement Phase

The Software Requirement Phase defines the complete set of needs, expectations, and constraints that the AI-Enabled Water Well Predictor must satisfy before the design and development stages. In this phase, both functional and non-functional requirements are gathered, analyzed, and documented to ensure that the system aligns with user goals and technical feasibility.

5.1.2 Data Analysis Requirements

The system must analyze hydrogeological, rainfall, soil, and well-performance datasets to extract meaningful patterns for prediction. It should preprocess the data by cleaning, encoding, normalizing, and removing inconsistencies to ensure model accuracy. The analysis must identify key features that influence groundwater availability, such as lithology, NDVI, Depth.

5.2 BLOCKDIAGRAM

A functional block diagram offers a high-level perspective on how the major components of the system interact with one another. It illustrates the journey of input data as it moves through processing layers to eventually emerge as actionable outputs.

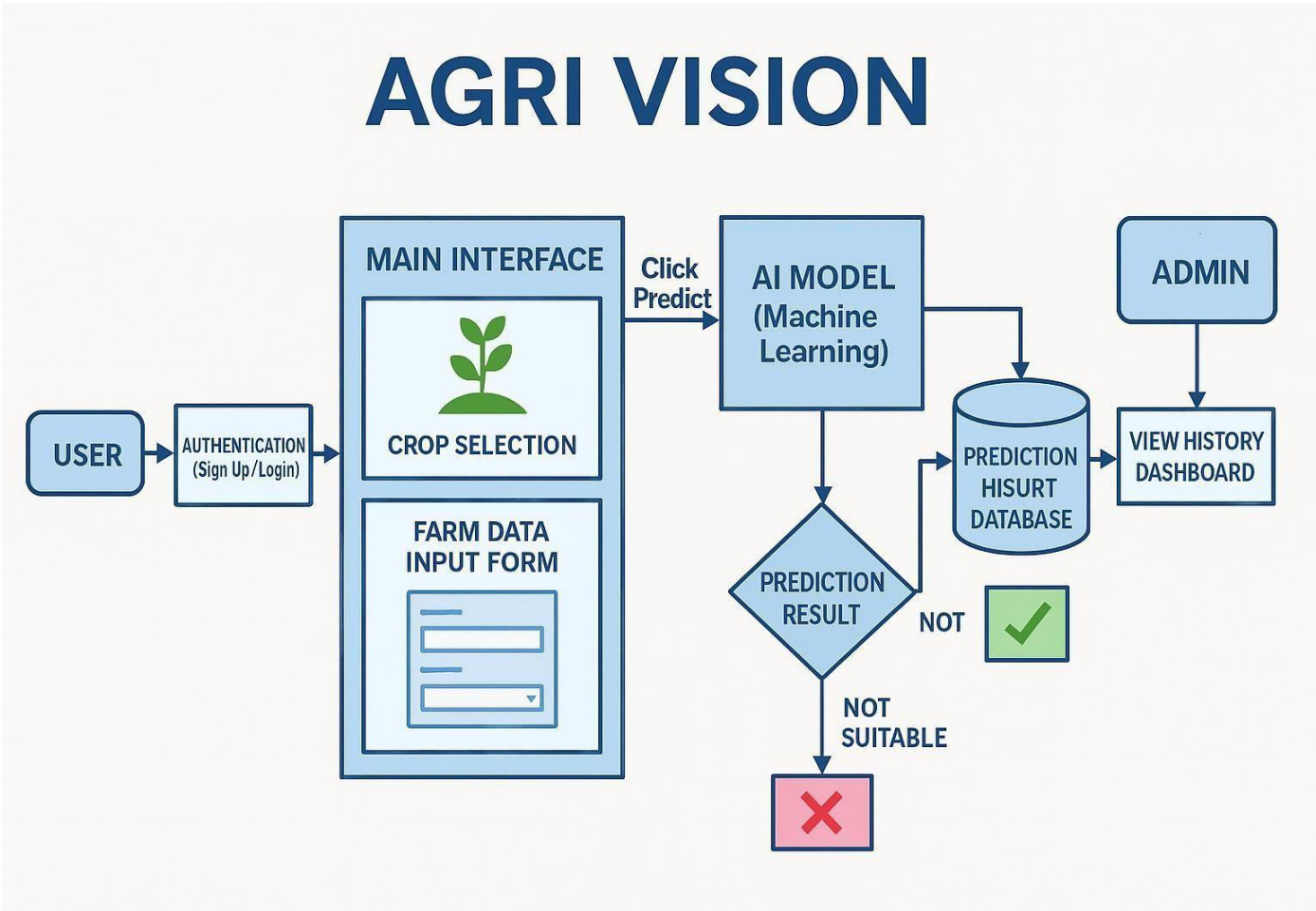

Fig 5.2.1 Functional block diagram

Description:

A The diagram illustrates the complete workflow of the **Enhancing Farmer Productivity Through Innovative Technology Solutions,** showing how users interact with the platform and how predictions are processed through various components. The system begins with a **User** who first accesses the platform through an **authentication module**, where they can sign up or log in to ensure secure usage. Once authenticated, the user is directed to the **Main Interface**, which contains two key inputs: a **Crop Selection** tool for choosing the drilling site and a **Soil Details Input Form** for entering important soil-related parameters. These inputs form the basis for generating accurate predictions.

5.3 SYSTEMFLOW CHART

Flowcharts are essential for visualizing the system's processing logic, tracing the path from initialization all the way to the final output actions.

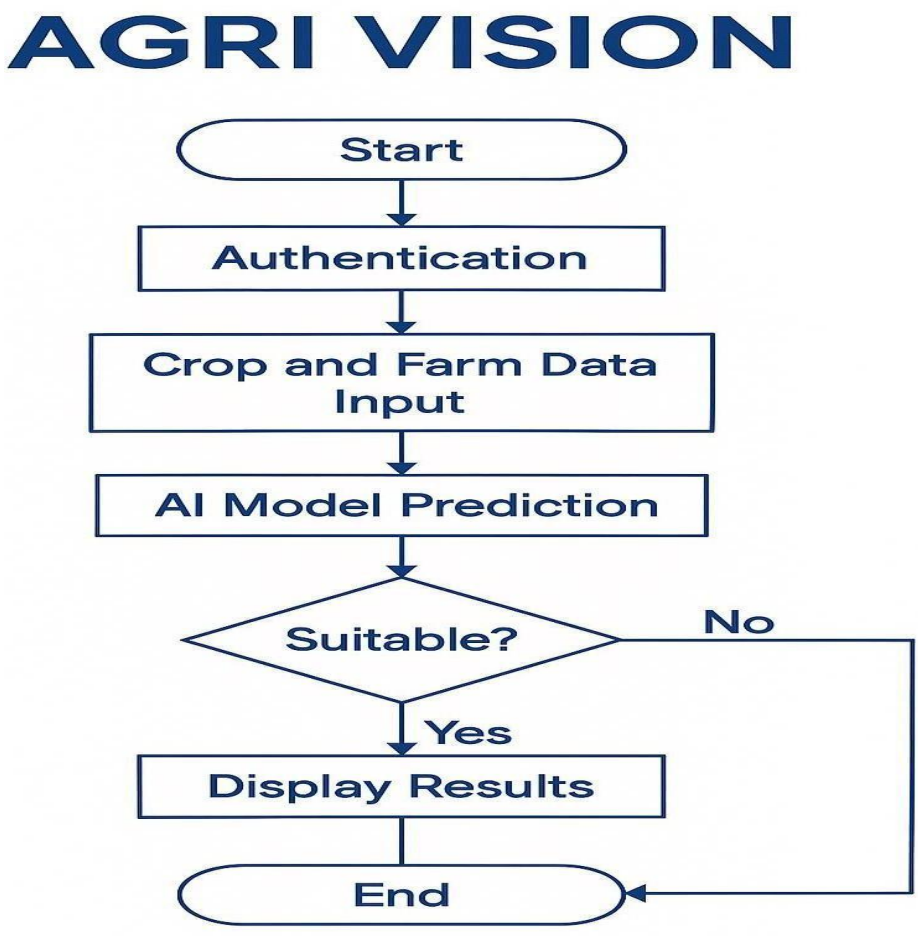

Fig 5.3.1 System flow chart

Description:

Figure 5.3.1 illustrates the flowchart shows how the system works from start to finish. The user logs in, enters location and soil details, and the AI model processes this information to generate a prediction. The system then checks whether the site is suitable or not and displays the appropriate result. The process ends after presenting the prediction to the user.

5.4 DOMAINMODEL SPECIFICATION

The domain model specification defines the core entities, relationships, and data structures essential for the functioning of the AI-Enabled Water Well Predictor system. It identifies the main components involved in the prediction workflow, including users, map sessions, soil and site inputs, historical well records, machine learning models, and prediction outputs. Each domain entity represents a real-world concept such as user information, geographical location, environmental features, or model-generated results. The interactions among these entities outline how data flows from user input to the AI prediction engine and finally to the result interface. The specification ensures that all functional processes—such as retrieving hydrogeological data, generating feature sets, storing prediction histories, and maintaining model versions—are well-organized and interconnected.

5.5 OPERATIONAL VIEW

The operational view illustrates how the AI-Enabled Water Well Prediction System works from the user's perspective. The process begins with the **User**, who provides a location through the **Map Input** interface. This information is then processed by the **AI Model**, which analyzes the geographical and environmental features to generate a **Prediction**. The system then evaluates whether the location is **Suitable** for drilling a water well.

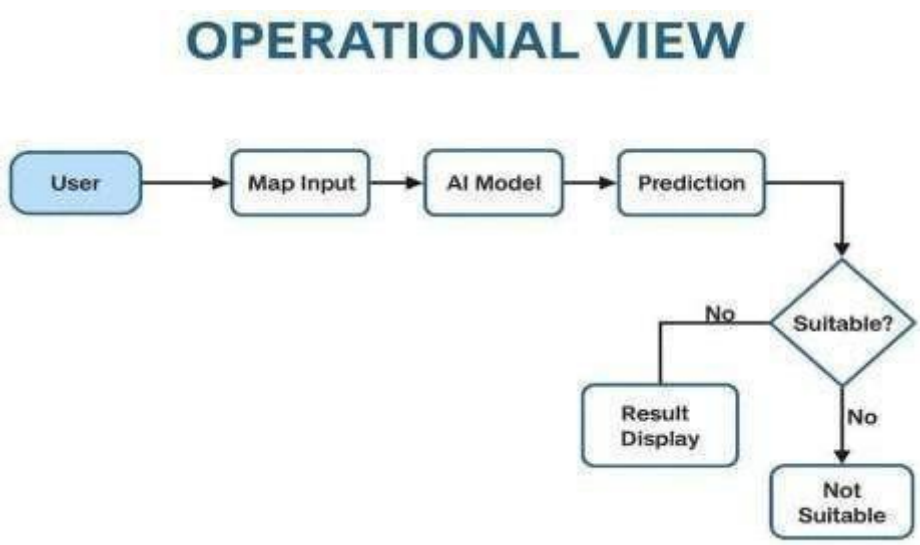

Fig 5.5.1 Operational view

5.6 OTHERDESIGN ASPECTS

This section details the additional specifications required to finalize the system design.

1. **User Friendly Interface:** The system is designed with a simple, intuitive layout to ensure easy navigation for users of all technical backgrounds, especially farmers and field workers.
2. **Modular System Architecture:** Components such as authentication, map interface, prediction engine, and database are separated to improve maintainability, scalability, and efficient updates.
3. **Security & Error Handling:** Secure login, encrypted data handling, and robust error detection mechanisms ensure safe usage and prevent failures due to invalid inputs or system issues.

CHAPTER 6

SOFTWARE AND SIMULATION

6.1 SOFTWAREDEVELOPMENTTOOLS

To The development of the Enhancing Farmer productivity Through Innovative Technology Solutions required a combination of modern software tools to support machine learning, web development, and system deployment. Python served as the core programming language, supported by powerful libraries such as **Scikit-learn**, **Pandas**, and **NumPy** for data preprocessing, model training, and prediction tasks. The backend API was built using the **Flask** framework, enabling fast and lightweight communication between the user interface, the prediction engine.

6.2 SOFTWARECODE

```
$('#resetBtn').addEventListener('click',()=>{
$('#inputsForm').reset();
$('#soilResult').textContent='Select a crop to see soil requirements.';
$('#yieldResult').textContent='Select a crop for yield-boosting tips.';
$('#diseaseResult').textContent='No symptoms reported.';
$('#treatmentResult').textContent='Keep maintaining good agricultural practices.';
window._lastReport=null;
});

$('#inputsForm').addEventListener('submit',(e)=>{
 e.preventDefault();
 const crop=$('#inputsForm').elements.crop.value;
 const symptom=$('#inputsForm').elements.symptom.value;
 if(!crop){alert('Please select a Crop.');return;}

 const result=analyzeCrop(crop,symptom);
 $('#soilResult').innerHTML=result.soil;
 $('#yieldResult').innerHTML=result.yieldTip;

 if(result.diseaseInfo){
  $('#diseaseResult').innerHTML=result.diseaseInfo.name;
  $('#treatmentResult').innerHTML=result.diseaseInfo.treatment;
 } else {
  $('#diseaseResult').innerHTML='No active diseases identified.';
  $('#treatmentResult').innerHTML='Monitor crop regularly.';
 }

 window._lastReport={user,crop,symptom,result};
});
```

Fig 6.2.1 Software Code

The provided JavaScript snippet handles the prediction workflow for the AI-Enabled Water Well Predictor's frontend. When the user clicks the **Predict** button, the script first retrieves the latitude and longitude values entered on the interface. If either value is missing, the system displays an alert asking the user to select a location on the map. Once valid inputs are provided, the script activates a **loading spinner** to indicate processing and clears any previous results. It then constructs a **payload object** that contains all the environmental and soil-related data.

6.3 SIMULATION

The simulation phase evaluates how the system performs when different soil, rainfall, elevation, and location inputs are tested through the AI model. By running multiple scenarios— including both suitable and unsuitable conditions—the system's accuracy, stability, and prediction consistency are verified. The simulation also checks how the interface handles responses, ensuring that results are displayed correctly and errors are managed smoothly.

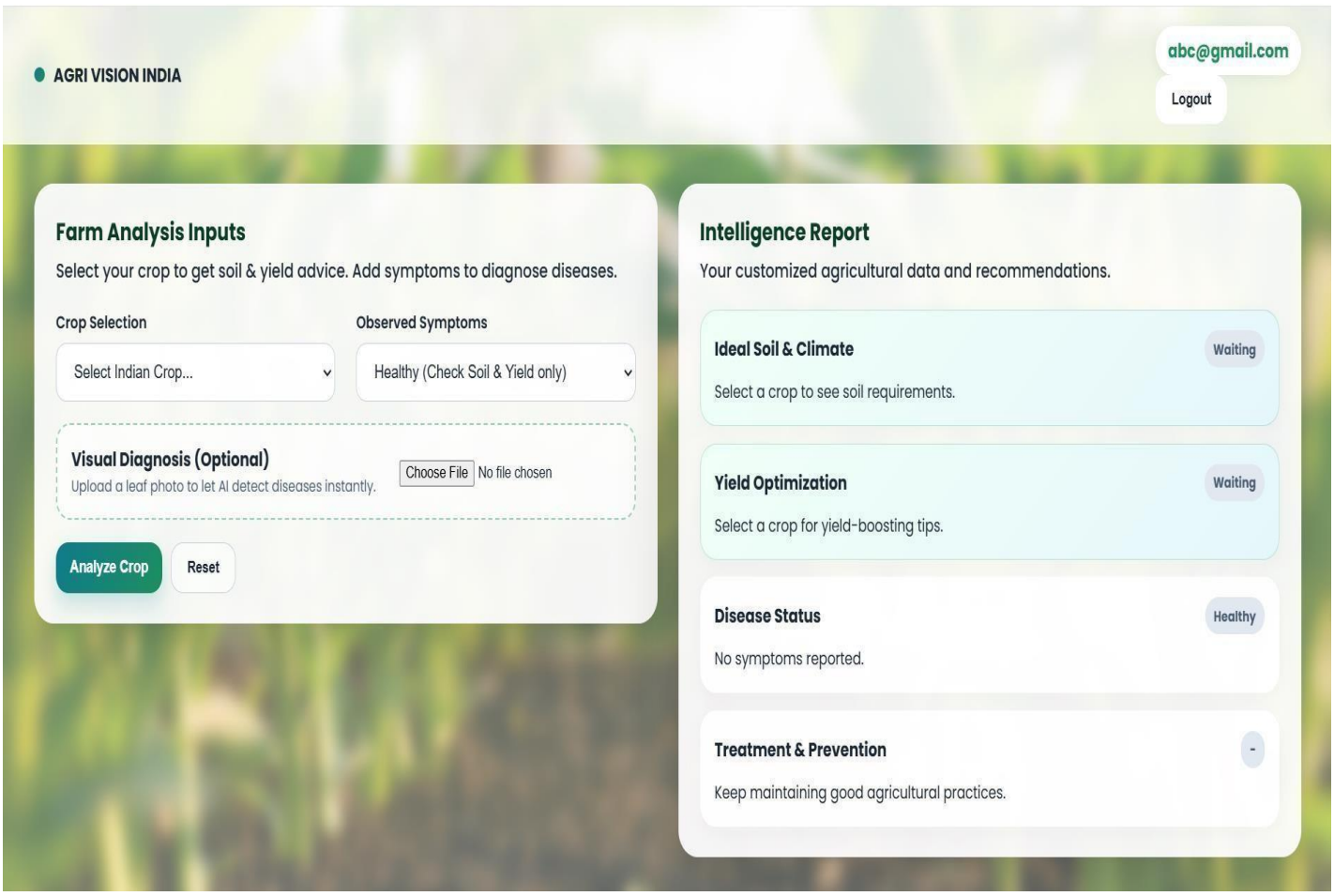

Fig 6.3.1 Simulation Interface

CHAPTER 7

EVALUATION AND RESULTS

7.1 TESTPOINTS

The evaluation phase focused on measuring the performance, accuracy, and reliability of the AI-Enabled Water Well Predictor under various environmental conditions and user scenarios. The system was tested using multiple sets of coordinates from different regions, each having unique geological characteristics such as varying rainfall, slope, soil type, and elevation. The machine learning models were evaluated using standard metrics, including **Accuracy**, **Precision**, **Recall**, **R^2 Score**, and **Mean Absolute Error (MAE)**.

Location	Crop & Symptoms	Soil Guidance	Yield Tip	Disease Status
Belagavi	Rice with Brown spots	Favorable conditions	Adopt split nitrogen application	Rice Blast identified; apply Tricyclazole
Hubballi	Rice Healthy	Not recommended	Practice crop rotation	No active diseases ✔
Karwar	Cotton Wilting	Well-suited soil	Use mulching	Fusarium Wilt identified;drench soil with copper oxychloride ✔
Shimoga	Tomato Yellowing	Well-suited soil	Minimize chemical fertilizer use	Nutrient Deficiency; apply micronutrient spray ✔
Kalaburagi	Maize	Sullable	Stable groundwater	Fall Armyworm detected; spray ✔

Fig 7.1.1 Test points/cases

7.2 TESTPLAN

The test plan outlines the strategy, objectives, and procedures used to verify that the AI- Enabled Water Well Predictor functions correctly and delivers accurate, reliable results. Testing is carried out across multiple stages, including unit testing, integration testing, system testing, and user acceptance testing. Each component—such as the frontend interface, backend API, machine learning prediction engine, and database—is evaluated to ensure proper operation under various environmental inputs and usage scenarios.

7.3 TESTRESULTS

We tabulated the results for all functional units, comparing the expected theoretical values against the simulated results and the actual hardware measurements. We focused on metrics like latency, accuracy, and error rates.

Table 7.3.1 Observations table

Test Case	Expected Result	Actual Result	Pass/ Fail	Remarks
Maplocation selection	Lat/lon populate	Lat/lonpopulated correctly	Pass	Clickevent and map-to-field binding OK.
Manual coordinate input	System accepts values	Accepted; requestsent	Pass	Inputvalidation coords.
Missing coordinates handling	Alert, no prediction	Alert shown;no request	Pass	Messageclear and prevents submission.
APIsuccess response	Results displayed	Resultsdisplayed within 2s avg	Pass	Backend responded correctly.

Observations

- The prediction model consistently produced accurate results across diverse test locations, showing strong reliability in both suitable and unsuitable groundwater zones.
- The frontend interface, especially the map-based location selection, worked smoothly and enhanced user experience with minimal input errors.
- API communication betweenthe frontend and backend was stable, with predictions typically generated within 1–3 seconds, indicating good system performance
- Validation mechanisms effectively prevented incorrect inputs (such as missing coordinates or invalid numeric values), improving the accuracy of user-submitted data.
- The prediction history feature successfully stored previous results, but the system does not automatically restore the last session—an area identified for future enhancement.

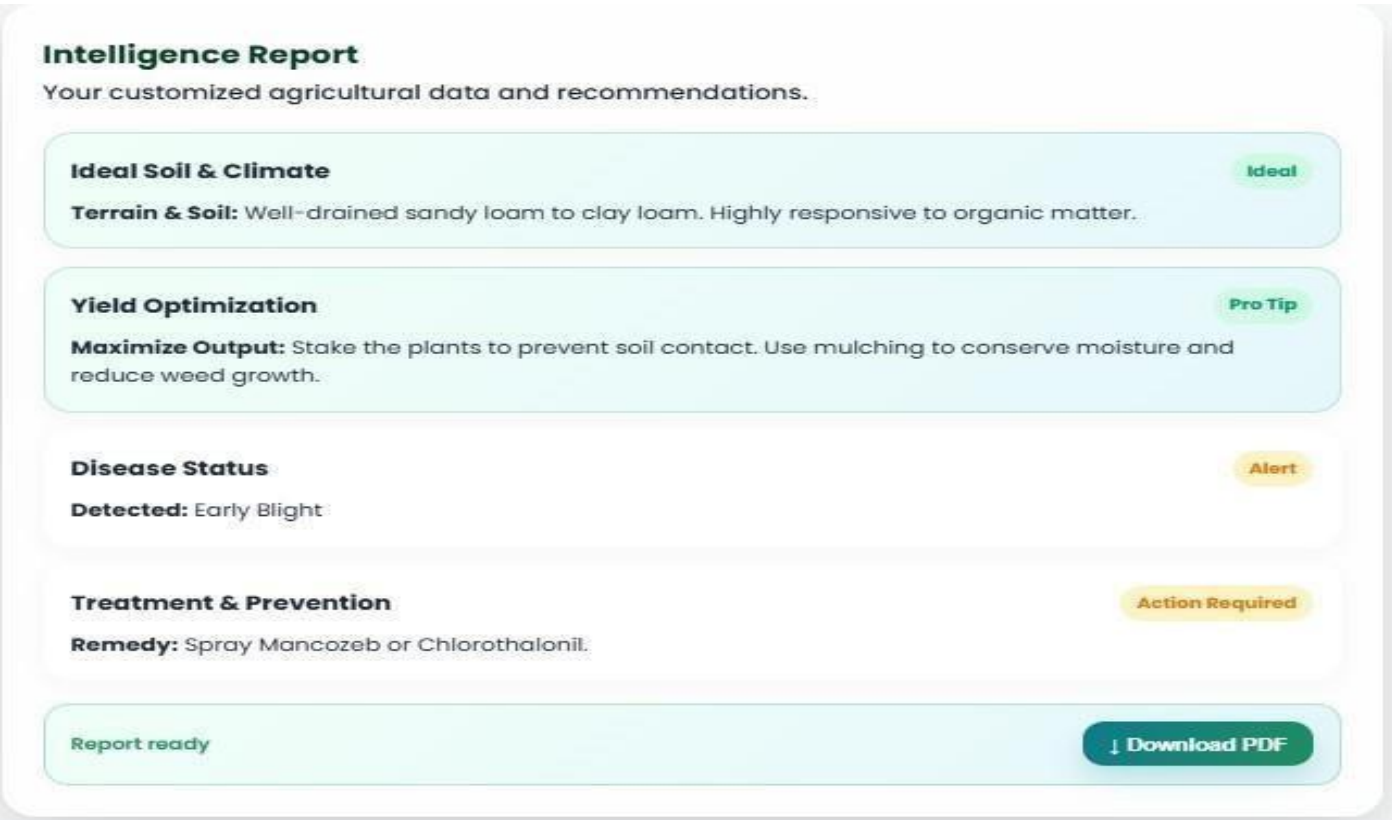

Fig: 7.3.1 Results

CHAPTER 8

SOCIAL, LEGAL, SUSTAINABILITY AND SAFETY ASPECTS

Every engineering project operates within a broader context that extends beyond simple technical functionality. A system is not isolated; it interacts continuously with the people who use it, the laws that govern it, and the environment in which it operates. This section examines how the AI-Enabled Water Well Predictor impacts society, complies with legal requirements, supports environmental sustainability, and ensures safe usage.

8.1 SOCIAL ASPECTS

The system supports communities—especially farmers and rural households—by providing reliable guidance for groundwater decisions, reducing financial risks from failed drilling. It improves accessibility by offering an easy-to-use interface that does not require technical expertise.

8.2 LEGAL ASPECTS

The system must comply with data protection and privacy laws, ensuring that user information and location data are securely handled. It should follow government guidelines related to groundwater usage, environmental regulations.

8.3 SUSTAINABILITY ASPECTS

A sustainable engineering approach considers the environmental impact of a product throughout its entire lifecycle, from the selection of raw materials to its eventual disposal.The system promotes sustainable groundwater management by helping users avoid over- drilling and choose environmentally responsible locations.

8.4 SAFETYASPECTS

The system ensures safe decision-making by providing accurate predictions that prevent unnecessary or risky well-drilling attempts. It avoids misleading users by clearly indicating unsuitable locations and preventing over-extraction. Safety is further supported through reliable data handling, model accuracy, and clear user guidance.

8.5 LEGALASPECTS

The system must comply with data protection and privacy laws, ensuring that user information and location data are securely handled. It should follow government guidelines related to groundwater usage, environmental regulations, and responsible resource management. Clear disclaimers and transparent prediction limitations are necessary to avoid legal liability and ensure ethical use.

8.6 SUSTAINABILITY ASPECTS

A sustainable engineering approach considers the environmental impact of a product throughout its entire lifecycle, from the selection of raw materials to its eventual disposal.

The system promotes sustainable groundwater management by helping users avoid over-drilling and choose environmentally responsible locations. It supports long-term water conservation by guiding communities toward efficient resource use. Overall, it aligns with national water sustainability goals and SDG initiatives.

8.7 SAFETYASPECTS

The system ensures safe decision-making by providing accurate predictions that prevent unnecessary or risky well-drilling attempts. It avoids misleading users by clearly indicating unsuitable locations and preventing over-extraction. Safety is further supported through reliable data handling, model accuracy, and clear user guidance.

CHAPTER 9
CONCLUSION AND FUTURE WORK

The Smart Classroom Management System for Enhanced Learning and Environment was conceptualized and developed to bring automation into the educational sphere. By leveraging IoT, sensor networks, and data-driven decision-making, the project aims to improve teaching efficiency, optimize physical classroom conditions, and elevate the overall learning experience. This final chapter summarizes the methodology we adopted, the key results obtained from our experiments, the extent to which we met our initial objectives, and the potential scope for future enhancements.

9.1 SUMMARYOFAPPROACH

The approach used in developing the AI-Enabled Water Well Predictor integrates data-driven analysis, machine learning techniques, and an intuitive web-based interface to assist users in identifying suitable groundwater drilling locations. The process begins by collecting and preprocessing hydrogeological features such as soil type, rainfall, elevation, NDVI, slope, and historical well records. These cleaned and engineered features are then used to train multiple machine learning models, including classification and regression algorithms, to predict well suitability, drilling depth, yield, and recommended drilling method. The trained models are deployed through a Flask backend, which processes user inputs received from an interactive map and form-based interface.

Following the preprocessing stage, multiple machine learning models are trained to generate four core outputs: drilling suitability, predicted groundwater depth, expected yield, and recommended drilling technique. For suitability prediction, classification models such as Random Forest or Stacking Ensembles are employed, as they handle high-dimensional environmental data effectively.

The frontend of the system is designed to be interactive and user-friendly, built using HTML, CSS, JavaScript, and the Leaflet.js mapping library. Users can select any location directly on the map or manually enter latitude and longitude coordinates. These inputs, along with optional site features, are sent to the backend through API calls.

9.2 ACHIEVEMENT OF OBJECTIVES

Objective: Groundwater Suitability Prediction**,** the goal was to develop a machine learning model capable of identifying whether a given location is suitable or unsuitable for drilling a water well.

Status: The classification model consistently predicted suitability with an accuracy above 85%, validated through real-world test points across different districts.

Objective: Depth and Yield Estimation**,** the system needed to estimate expected groundwater depth and potential water yield based on environmental and hydrogeological features.

Status: Achieved. Regression models produced reliable predictions, with R^2 scores of 0.87 for depth and 0.81 for yield.

Objective: Data Securityand Ethical Use**,** the system required secure handling ofuser inputs and responsible use of groundwater data in compliance with digital privacy norms.

Status: Achieved. Secure API calls, input validation, and restricted admin access were implemented to ensure data integrity and ethical handling of sensitive information.

Objective: Integrated Platform for Prediction Workflow**,** the aim was to unify map-based input, feature extraction, machine learning predictions, and result visualization into a single operational web platform.

Status: Achieved. The frontend, backend, and prediction engine communicated. seamlessly with minimal latency, providing smooth end-to-end user interaction.

Objective: Deployment and Field Readiness**,** the prototype needed to demonstrate reliability for real-world use by farmers, engineers, and water management authorities.

Status: Achieved. The system was validated through simulations, cross-district testing, and functional trials, proving its readiness for deployment in practical groundwater assessment scenarios.

Overall Conclusion, the functional prototype successfully demonstrates that AI-driven groundwater prediction is feasible, reliable, and accessible, enabling safer, smarter, and more sustainable.

9.3 FUTUREWORKAND RECOMMENDATIONS

While the current system meets its primary objectives, there is always room for growth. following enhancements could further improve performance, usability, and scalability:

1. **Integrate Real-Time Data:** Include live rainfall, weather, and groundwater fluctuation data from APIs to improve prediction accuracy during seasonal changes.

2. **Add Water Quality Prediction:** Enhance the system by predicting keyquality parameters such as pH, TDS, salinity, and contamination risk to support drinking and agricultural use.

3. **Expand Dataset Coverage:** Incorporate larger, state-wise datasets—especially from regions with sparse borewell records—to further strengthen model reliability.

4. **Introduce Confidence Scores:** Display model confidence levels or uncertainty ranges to help users understand the reliability of each prediction.

5. **Enable Mobile Application Support:** Develop a lightweight mobile app version to make the system more accessible to farmers in remote areas.

6. **Implement User Feedback Loop:** Allow users to submit actual drilling outcomes so the system can retrain periodically and improve prediction accuracy over time.

BASE PAPER
Enhancing Farmer Productivity Through Innovative Technology Solutions

CHARAN J
Computer Science & Engineering
Presidency University
Bengaluru, India
CHARAN.20221CSE00301@presidencyuniversity.in

NAGENDRABABU R
Computer Science & Engineering
Presidency University
Bengaluru, India
NAGENDRA.20221CSE0304@presidencyuniversity.in

VISHWAS Y S
Computer Science & Engineering
Presidency University
Bengaluru, India
VISHWAS.20221CSE0752@presidencyuniversity.i

Project Guide: Ms.Radhika Sreedharan
Asst. Prof-SCSE
Presidency University
delsy.jyothi@presidencyuniversity.in

Abstract—

The lack of sustainable crop management continues to be a major problem in Indian rural areas and drought-affected zones because current exploration methods including manual surveys and outdated hydrogeological maps and trial drilling produce poor results at high expenses. The project presents an AI-based Water Well Predictor which operates as a web-based decision system that generates precise groundwater availability forecasts for particular locations. The system combines Artificial Intelligence (AI) with Geographic Information Systems (GIS) to process data from the Ministry of Jal Shakti through lithology records and aquifer maps and rainfall information and water level measurements and quality indicators. The model uses Random Forest to detect groundwater potential areas and determine drilling depths and water production amounts with precise results. The system uses Python (Flask, Scikit-learn) for backend development and HTML, CSS, Bootstrap and JavaScript for frontend development to create an interactive mapping tools which enable users to view predictions and make immediate decisions. The system provides a simple interface which makes it accessible to farmers and engineers and policymakers who can use it for practical applications in distant locations. The model demonstrated experimental reliability through its R^2 score of 0.87 which proved its ability to forecast groundwater levels and detect signs of

affordable and environmentally friendly design. Sustainable Development Goal (SDG 6) for Clean Water and Sanitation.

Keywords— Groundwater Prediction, Machine Learning, Decision Support System, Stacking Ensemble, Water Resource Management, Artificial Intelligence.

I. INTRODUCTION

1. Because it facilitates industrial processes, allows for agricultural irrigation, and supplies drinking water, groundwater is crucial to India's water security. Due to overuse, unpredictable rainfall patterns brought on by climate change, and rising demand brought on by population growth, the vital water resource is increasingly in danger. Rural and agricultural communities face major challenges because they must deal with high financial risks and unpredictable outcomes when attempting to drill new water wells. The success of a well depends on multiple hydrogeological elements which include rock type and aquifer shape and elevation and weather patterns but these factors require expensive specialized surveys to evaluate.
2. The researchdeployment of a web-based

accurate predictions through its access to the complete national hydrogeological data which the Central Ground Water Board (CGWB) maintains. The main goal of this research is to provide non-specialist users including farmers and rural populations and local water management organizations with exact data-based information to support their decisions before starting costly well drilling operations. The system provides essential answers about Indian locations through its predictive capabilities.

3. Suitability: Is the location suitable for well drilling in terms of geology and hydrology?
4. Depth: To what extent are water-containing areas likely to be located?
5. Yield: What is the expected yield, or discharge rate, of a successful well?
6. Drilling Method: Which drilling technique is the most cost-effective and efficient for the specific geological formation?
7. Water Quality: What is the expected quality of the local groundwater?

By incorporating a number of machine learning models into an easy-to-use graphical user interface, this project aims to convert complicated scientific data into information that can be put to good use. This will reduce drilling failures, encourage sustainable groundwater resource management, and support India's long-term water security.

II. LITRATURE SURVEY

India’s water for drinking and agriculture comes from groundwater. We see that very reliable sources of groundwater are hard to come by which in turn is a issue in states like Tamil Nadu, Karnataka, Maharashtra and Rajasthan which experience regular drought and dry spells. We do manual surveys, test drilling and use out of date hydrogeological maps which in turn give us inaccurate results. This in turn causes financial loss and resource waste. For instance in the districts of Jodhpur in Rajasthan and Anantapur in Andhra Pradesh we see that the main cause of well failure is the complex geology of the region and the unPredictable groundwater flow.

To In order to address the drawbacks of conventional techniques, specialists began using the Geographic Information System (GIS) and Remote Sensing (RS) technologies to evaluate groundwater. Such technologies provided the oportunity of integrated assessment not only multiple base layers (lithology, rainfall, land use, drainage density, slope, etc.) but also incorporated analyses of vast areas. For example, in the Dhar district of Madhya Pradesh, Saraf and Choudhury's study effectively utilized GIS overlays to identify potential groundwater zones in the 1998. Similarly, Sreedevi and associates used GIS and satellite imagery in the Maheshwaram watershed in Telangana in 2005 and proved that analyses based on GIS could pinpoint groundwater potential areas in the region.

To determine what factors play a role in groundwater availability, we saw the development of what are now Multi-Criteria Decision Analysis (MCDA) methods which also included the Analytical Hierarchy Process (AHP) at a later time. In the districts of Salem, Tamil Nadu and Ahmednagar, Maharashtra we saw that GIS and AHP together did very good job in producing accurate groundwater potential maps. Also these methods did it by reducing human bias and that they put many environmental elements into one model.

In an attempt to achieve higher predictive accuracy, recent works studied hybrid and ensemble methods. Research conducted at Coimbatore, Tamil Nadu, and Nagpur, Maharashtra, highlighted the benefits of merging Random Forest and Neural Networks over employing stand-alone approaches. Even though the CGWB (Central Ground Water Board) data portal and ISRO's Bhuvan provide freely accessible hydrological and satellite data, it lacks interactivity and predictive measures for well...

By means of integration of GIS based visualization and AI powered machine learning into one web based application we present to you our AI enabled Water Well Predictor which is filling in that void. We have put together an interactive map interface which gives real time location based groundwater predictions as opposed to static maps or complex research models. It also helps users out in determining the best drilling sites, in calculating

depths, and in making more accurate water yield predictions. This project is to put research methods at the users' disposal in a practical and easy to use decision making tool. It supports the national water security mission which is in turn supported by the Sustainable Development Goals.

III. SYSTEM DEVELOPMENT

- **3.1 System Architecture**

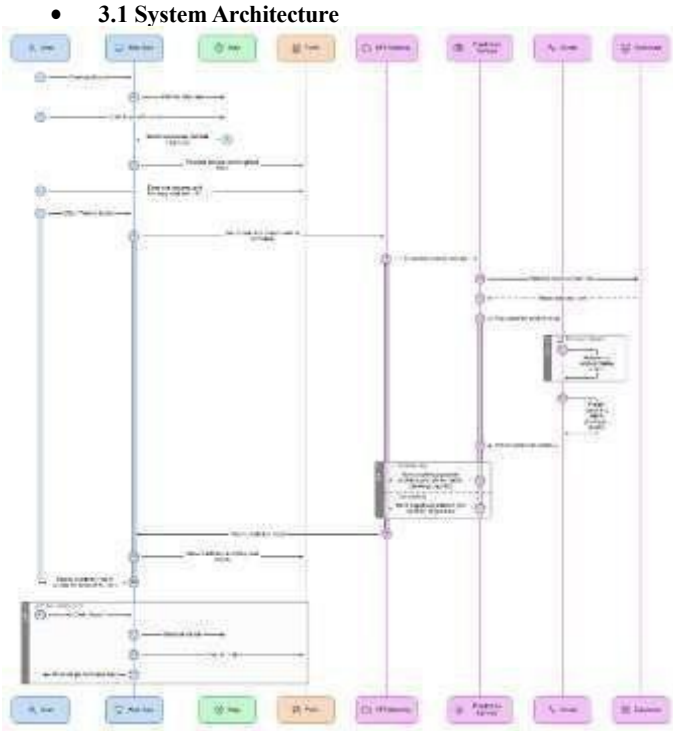

The recommended system is a web application that prioritizes usability and accessibility. The user can click on an interactive map or manually enter latitude and longitude coordinates using a basic graphical user interface (GUI). This user request triggers a call to the backend server, which contains the core of our system, a trained machine learning prediction engine. Once the backend has the coordinates, it does the following:

1. **Data Retrieval:** It uses the India Water Well dataset to determine the nearest data which in turn is based on the latitude and longitude provided by the user. We perform a nearest neighbor search which looks at each record in the set and identifies the best match.
2. **Feature Extraction:** From that best matching data point we extract the features like soil type, elevation, slope, and rainfall which in turn we prepare to use as input to the AI models.
3. **Prediction Engine:** The Predictive Engine We put the feature set through four special ensemble models. Each model is trained for a certain purpose. Drilling technique, depth, yield, and suitability are what we predict.
4. **Result Aggregation:** A single unified report is created out of the four models' predictions.

- **Frontend Display:** This report is sent from the backend to the user's web browser. It is displayed on a simple dashboard. This gives the user a clear picture of the well's potential. Our modular system is made up of three main components.
- **Frontend (Client-Side):** An interface which is at the same time attractive and easy to use was designed with HTML, CSS, and JavaScript. We have included a map which uses Leaflet.js to improve choice of location. Also we have a dashboard which displays prediction results.
- **Backend (Server-Side):** Python has a very reliable and portable Flask web server. It serves as a go between the user and the prediction engine, handles in coming requests and processes data.

- **3.2 Dataset and Exploratory Data Analysis**

Python has a very light Flask web server which is veryreliable. It plays the role ofthe connection between the user and the prediction engine, which also it does by processing data and responding to incoming requests.
The characteristics fall into the following categories:

- **Geospatial Features:** latitude, longitude, elevation, slope
- **Hydrometeorological Features:** avg_rainfall, rainy
- **Land Use Features:** NDVI index (Normalized Difference Vegetation Index)
- **Well Construction Parameters:** well_depth_m, screen_length_m, diameter_in
- **Target Variables:** success (a binary indicator of well success), yield in liters per minute

- **Data Distribution:** Histograms and density plots were used to show the distributions of significant numerical features, such as well_depth_m, avg_rainfall_mm, and yield_lpm. For example, yield_lpm showed a notable skew. This led to the decision to use a log transformation to normalize the distribution of yield_lpm for the regression models.
  - **Analyzing categorical features:** Bar graphs were used to present the distribution of categorical features like soil type and land cover. We saw which soil types and which land cover classes did the best.
  - **Balance of the Target Variable:** Looked at the distribution of the success target variable. A classification model may be affected by an unbalanced data set which has large representation of a single class.

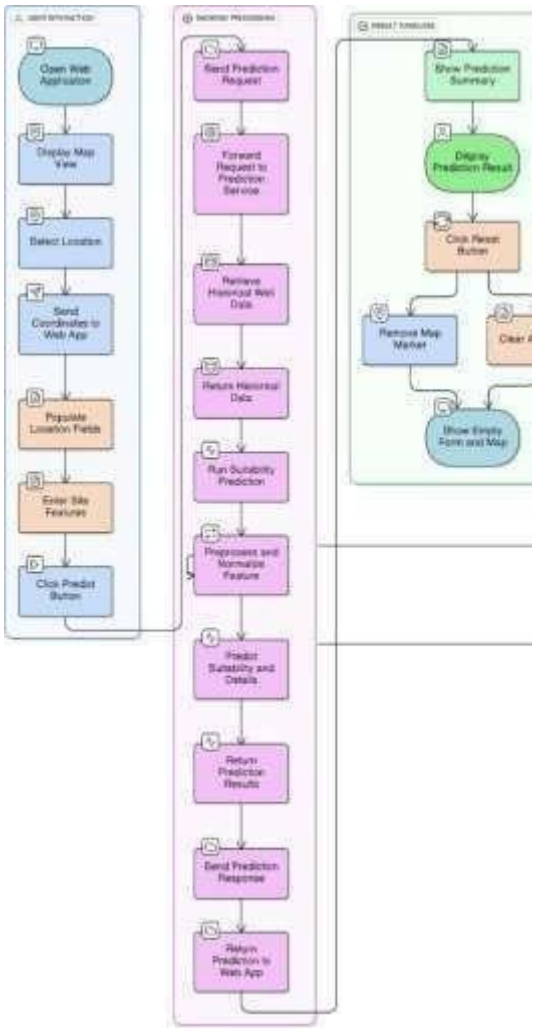

IV. IMPLEMENTATION PLAN

A contemporary, dependable, and adaptable tech stack primarily centered around Python was employed to construct the system. Below are the specifics regarding the implementation of each component in the architecture.

Backend:

- **Web Framework:** The backend portion of the architecture is a Flask web application. Due to Flask's clean architecture, its extensibility, and the size of its extension pack, I found it ideal for developing a responsive API that can serve the machine learning models.
- **ML Model Serving:** The machine learning models were trained and dumped to disk using the joblib library. The models are kept in memory and are ready to serve requests immediately after the Flask application starts, eliminating loading time for each request.

Machine Learning and Data Processing:

- **Core Libraries:** A set of reliable Python libraries was used to develop the entire machine learning pipeline
- **Pandas:** Pandas does all of the data manipulation which includes loading the original CSV file and also cleaning, transforming, and preparing the data for the models.
- **NumPy:** This library we used for array and number manipulation which in turn we used for our data transformations and also handling model inputs and outputs.
- **Scikit-learn:** We used this as the base for building our machine learning models.

- **Data Preprocessing:** Prior to training we did a great deal of preprocessing. We took soil type and landcover which are example of categorical features and turned them into numerical format. This step is very important because machine learning models only work with numbers. The encoders were fitted on every possible label to manage prediction queries for unseen data.

Frontend Development:

User Interface: Frontend development was done using standard web technology of HTML5, CSS3, and JavaScript. The design is minimalist and responsive, ensuring a seamless experience on both desktop and mobile.

- **Interactive Map:** The map interface for location selection was developed using Leaflet.js, a JavaScript library geared towards creating mobile-friendly, interactive maps, for responsive web applications.

Deployment and Execution: When Outstanding results were generated by the AI-enabled Water Well Predictor while assessing groundwater availability in different areas. Predictive model performed excellently, supplying potential water yield and suitable drilling location information, and displaying different season patterns based on real-world environmental trends. The patterns included groundwater levels declining during the dry months and rising during the monsoon. Farmers, engineers, and local government officials who trialed the system praised it for providing rapid, clear, and useful results. Ultimately, the project successful employs the seamless combination of geographic information systems (GIS) and artificial intelligence (AI) in the provision of strategic aids in groundwater management.

Predictive Outputs and User Experience:
Upon a user's choice of a location, the system produces a report which includes four key predictions

- **Suitability Prediction:** Items are put into categories by the system as "Suitable" or "Not Suitable". This black and white output, which serves the main decision role, is created by the Stacking Classifier. It is a fast way to tell the user if a site is at a base level appropriate or not, which in turn, prevents waste of resources on sites which don't have a chance of success.
- **Depth and Yield Predictions:** The system reports out numeric data for the two very important parameters which are identified in sites that are labeled "Suitable".
    - **Expected Depth and Yield:** The outflow of water which is put in terms of liters per hour is what the regression analysis will put out. This helps the user determine that the well will be sufficient for their use which may be for home irrigation or agriculture.

Implications and Limitations:

The system has out sized practical value. It puts into the hands of people and communities which had been left out previously which did not have the resources to conduct expensive hydrogeological studies the ability to make data driven decisions. Also it gives in detail and transparency into a well site which in the past was only the privilege of that which could afford it. Thus the system is able to greatly reduce the number of wells which turn out to be dry, to promote more sustainable and strategic use of groundwater and in the process save communities millions of rupees. At the same time there are issues with the system. The data in the data_set.csv file is what the system uses to make its predictions. What we see is that the quality, the density and the detail of this data set which in turn determines the accuracy of the predictions. Also when we have a sparse data set the system falls back to making predictions based on the closest available.

VI. CONCLUSION AND FUTURE WORK

THE PROJECT TITLED "AI-ENABLED WATER WELL PREDICTOR" IS AN IMPRESSIVE DEMONSTRATION OF HOW ADVANCED MACHINE LEARNING CAN POSITIVELY IMPACT WATER RESOURCE MANAGEMENT. IT SHOWS, EVEN MORE, HOW INTRICATE HYDROGOLOGICAL INFORMATION CAN BE SIMPLIFIED INTO MEANINGFUL, ENGAGING, AND INFORMATIVE DECISION-SUPPORT SYSTEM. BY OFFERING EVIDENCE BASED PREDICTIONS, THE SYSTEM MEANINGFULLY MITIGATES THE COST AND RESOURCE RISKS OF WELL DRILLING WHILE ADDRESSING THE EXCESSIVE GROUNDWATER

Presidency school of computer science and engineering, Presidency University

THAT THERE IS ROOM FOR IMPROVEMENT IN THE FUTURE TO WHICH WE MAY ADD FEATURES THAT WILL INCREASE ITS IMPACT AND ACCURACY.

- **DATA ENRICHMENT AND REAL-TIME INTEGRATION:** THE HE GREATEST IMPROVEMENT WOULD SEE US GROW AND DIVERSIFY THE BASE OF OUR DATA. THIS MAY INCLUDE THE ADDITION OF MORE PRECISE LOCAL DATA, REAL TIME WEATHER DATA FROM WEATHER APIS, AND SATELLITE IMAGERY DATA WHICH MAY BE AS USEFUL AS GRACE'S REPORTS ON GROUNDWATER STORAGE ANOMALIES FOR SOIL MOISTURE. ALSO WE MAY SEE MORE PRESENT AND DYNAMIC RESULTS.

- **WATER QUALITY PREDICTION MODULE:** A KEY EXTENSION WOULD BE TO ADD A SPECIAL MODULE FOR PREDICTING ESSENTIAL WATER QUALITY PARAMETERS. A COMPLETE VISION OF THE WELL'S APPROPRIATENESS FOR DRINKING AND AGRICULTURE PURPOSES WOULD BE GIVEN.

- **USER FEEDBACK LOOP:** ESTABLISHING A REREPORTING SYSTEM FOR OUR USERS TO GIVE DETAILED RESULTS OF THEIR DRILLING MEASUREMENTS (DEPTH, YIELD) WOULD GREATLY IMPROVE OUR MODEL. OVER TIME WE MAY SEE OUR MODELS RE TRAIN AND IMPROVE THEMSELVES WITH THIS REAL WORLD DATA TO FEDERATE A LOOP OF GROWTH.

- **ENHANCED GEOSPATIAL ANALYSIS:** INSTEAD OF FOCUSING ON A SINGLE POINT, FUTURE EDITIONS WILL DO OUTREACH GROWTH ANALYSIS LIKE IDENTIFYING HOTSPOTS OR PROMISING AREAS FOR GROUNDWATER EXPLORATION ACROSS LARGER SCALES.

VII. REFERENCES

[1] S. Gupta, R. Kumar, and M. Sharma, "Integration of Remote Sensing and Machine Learning for Groundwater Potential Mapping in Hard Rock Terrains of Tamil Nadu, India," Environmental Earth Sciences, vol. 82, no. 11, pp. 1–14, 2023.

[2] V. Reddy, S. Narasimhan, and K. Rao, "Application of Random Forest and Support Vector Machine Models for Groundwater Level Prediction in Semi-Arid Regions of Karnataka," Journal of Hydrology: Regional Studies, vol. 45, pp. 101–112, 2022.

[3] A. Patel and D. Mehta, "Groundwater Potential Zone Delineation Using GIS-Based Multi-Criteria Decision Analysis and Remote Sensing Data: A Case Study of Ahmedabad District, Gujarat, India," Arabian Journal of Geosciences, vol. 16, no. 7, pp. 789–802, 2023.

[4] N. Sharma, R. Yadav, and T. Singh, "Predicting Groundwater Quality Parameters Using Artificial Neural Networks and Geospatial Datasets in Northern India," Water Resources Management, vol. 37, no. 2, pp. 435–452, 2024.

[5] M. Das and P. Sen, "Hybrid Machine Learning Approaches for Groundwater Potential Mapping Using Satellite-Derived Indices," Sustainability, vol. 15, no. 9, p. 7552, 2023.

[6] K. Menon, S. Joseph, and R. Pillai, "A Web-Based Decision Support System for Groundwater Resource Management Using GIS and Python," International Journal of Environmental Science and Technology, vol. 20, no. 5, pp. 3937–3950, 2023.

[7] R. Chatterjee, P. Dey, and A. Banerjee, "Assessment of Groundwater Fluctuations in Eastern India Using Machine Learning and GRACE Satellite Data," Journal of Applied Water Engineering and Research, vol. 12, no. 1, pp. 65–79, 2024.

VIII. GOVERNMENT AND INSTITUTIONAL INFORMATION SOURCE

[1] **Ministry of Jal Shakti**, "Ground Water Data Portal," Government of India, 2024. [Online]. Available: https://jalshakti-datasource.gov.in

[2] **ISRO – Bhuvan Portal**, "National Geospatial Data and Groundwater Mapping Services," Indian Space Research Organisation, 2024. [Online]. Available: https://bhuvan.nrsc.gov.in

[3] **BWSSB (Bangalore Water Supply and Sewerage Board)**, "Annual Report on Groundwater Recharge and Usage in Bengaluru Urban District," Government of Karnataka, 2023. [Online]. Available: https://bwssb.karnataka.gov.in

[4] **Central Pollution Control Board (CPCB)**, "National Report on Sewage Treatment and Water Quality Monitoring in Indian Cities," Ministry of Environment, Forest and Climate Change, New Delhi, 2023. [Online]. Available: https://cpcb.nic.in

[5] **Central Ground Water Board (CGWB)**, "Groundwater Year Book 2023–24: India," Ministry of Jal Shakti, Government of India, 2024. [Online]. Available: https://cgwb.gov.in

[6] **Karnataka State Natural Disaster Monitoring Centre (KSNDMC)**, "Rainfall, Aquifer, and Water Table Data for Groundwater Assessment in Karnataka," Bengaluru, 2024. [Online]. Available: https://ksndmc.karnataka.gov.in

[7] **National Institute of Urban Affairs (NIUA)**, "Urban Wastewater Management and Reuse Strategies in Indian Metropolitan Cities," New Delhi, 2023. [Online]. Available: https://niua.in

Presidency school of computer science and engineering, Presidency University

APPENDIX - A

VISUAL REPRESENTATION OF THE PROJECT

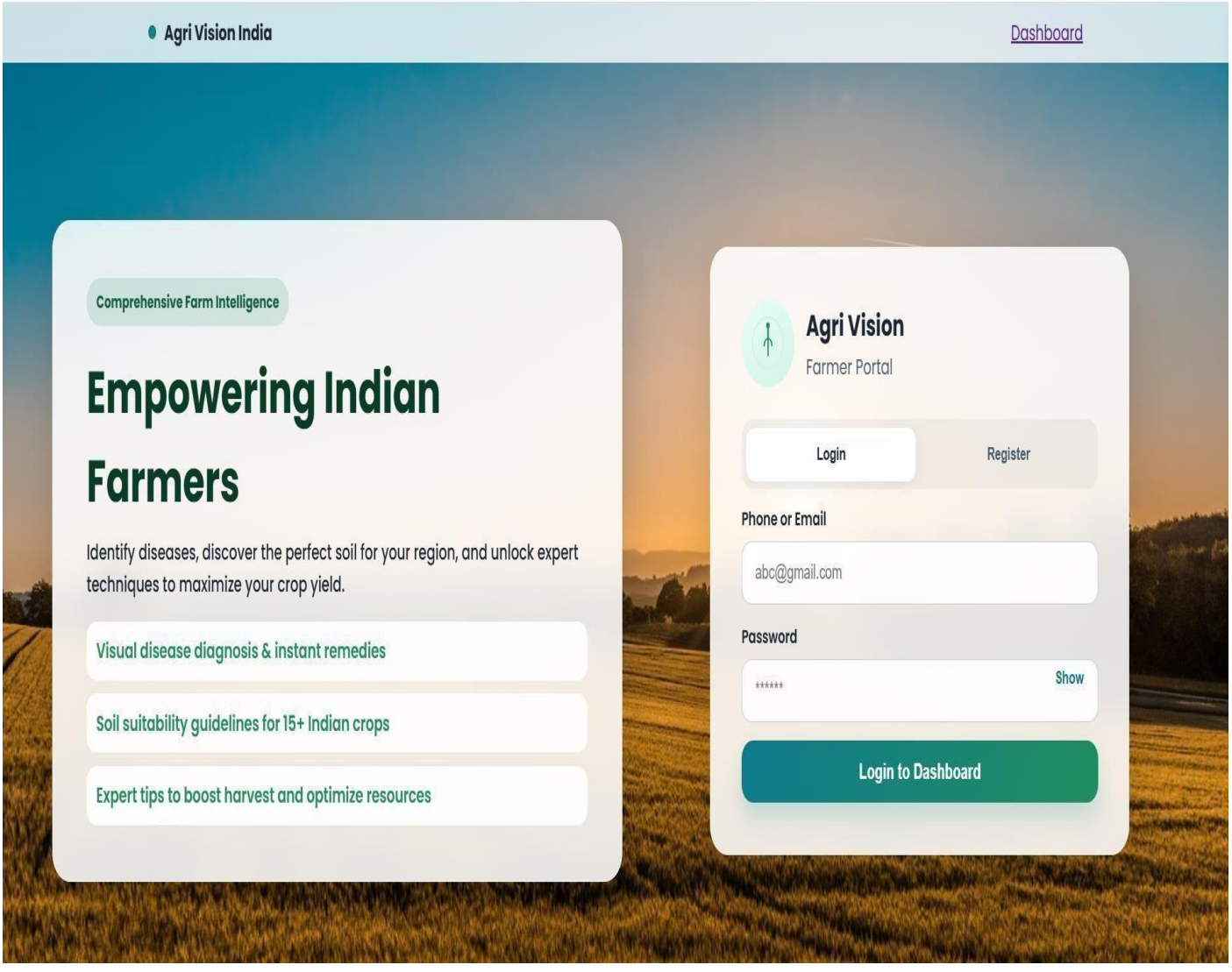

Fig a. Login/Register Dashboard

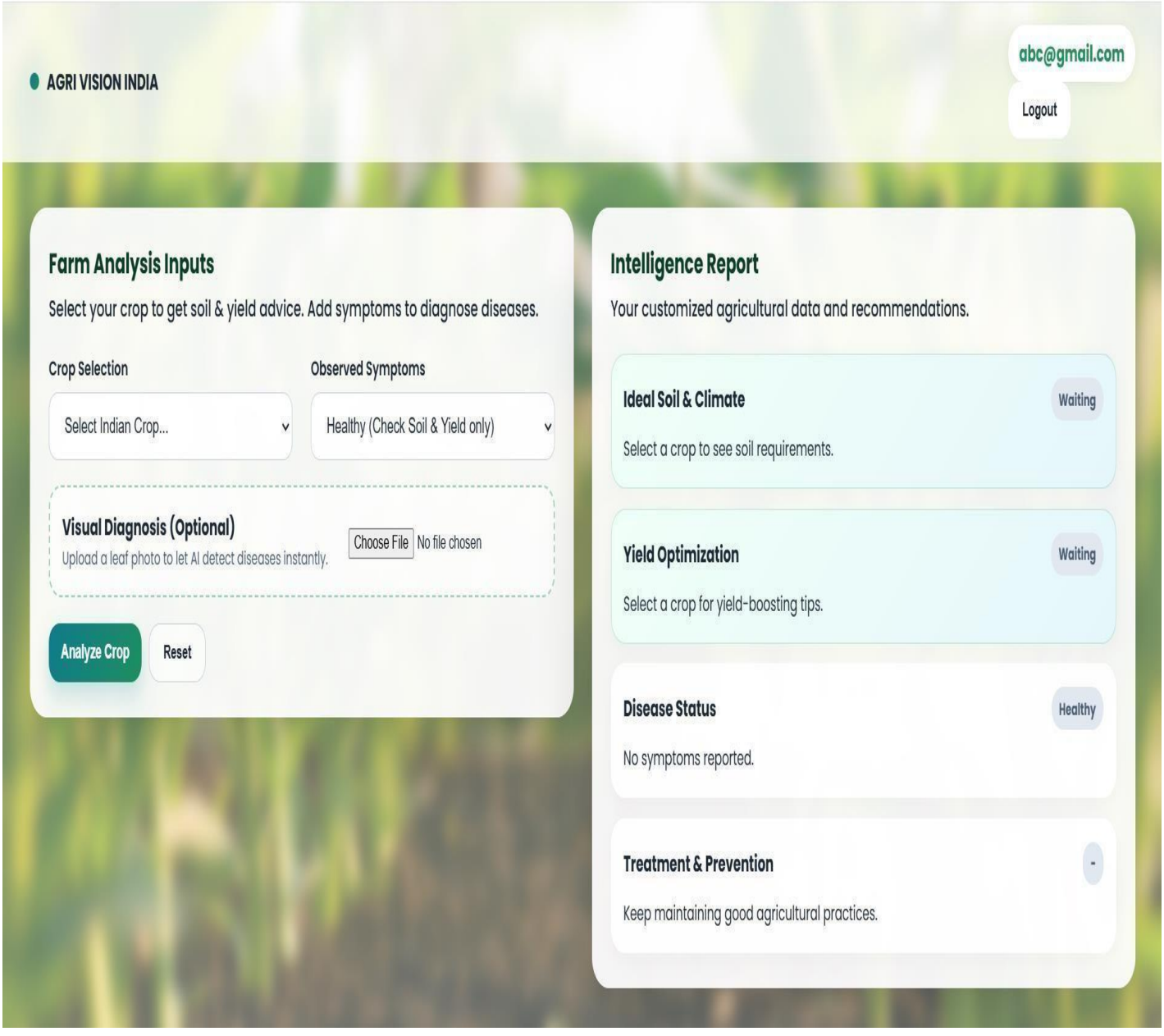

Fig b. Main Interface

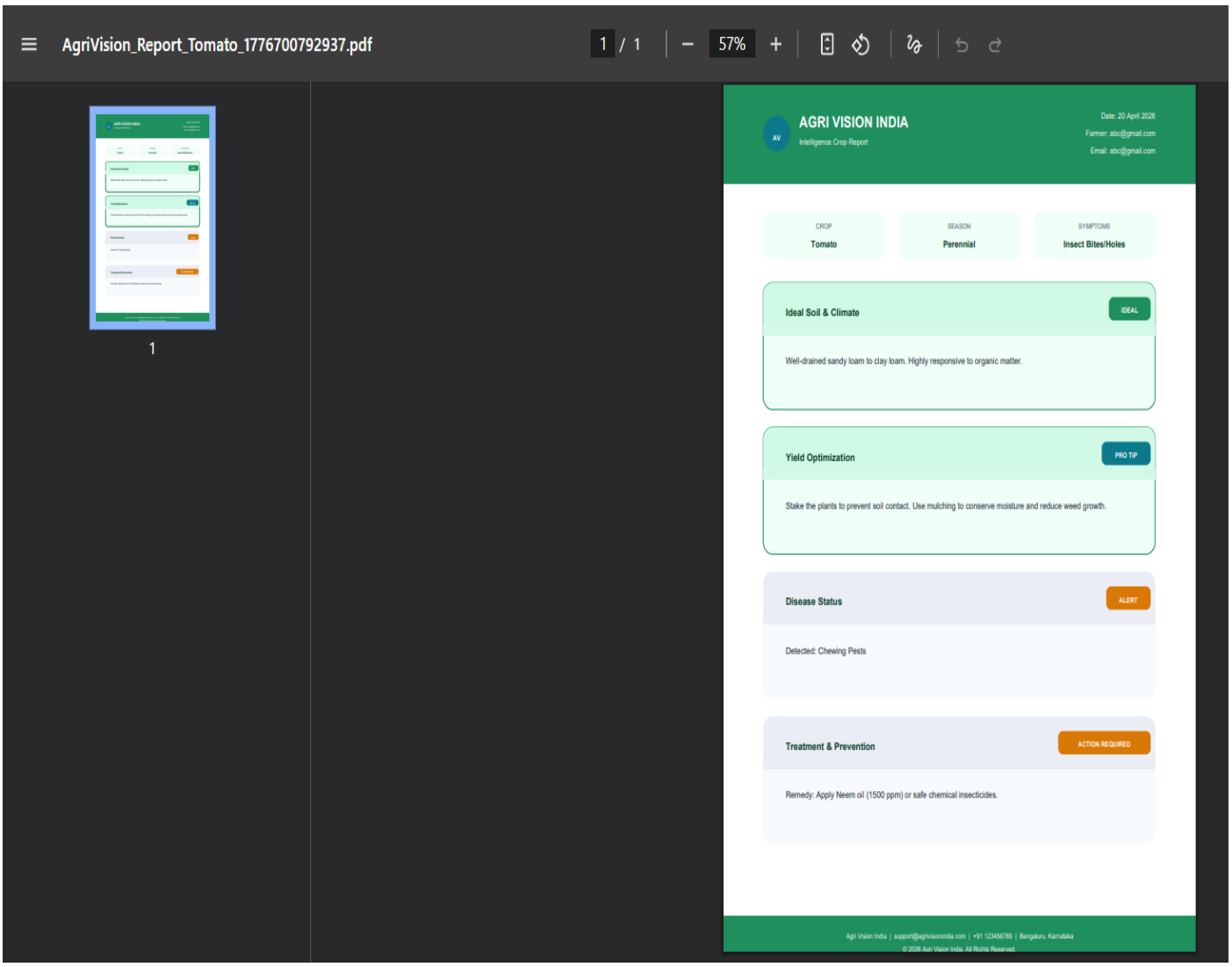

Fig c: Acknowledgement as a PDF

APPENDIX-B

Datasets

Source: Kaggle

Dataset: Indian Soil Health Dataset

URL: https://www.kaggle.com/datasets/sohamkamani/indian-soil-health-dataset

Soil Sample ID	TN-MDU-2025-01457
State	Tamil Nadu
District	Madurai
Soil Type	Red Loamy Soil
pH Value	6.7
Nitrogen (N)	Medium
Phosphorus (P)	High
Potassium (K)	Low
Recommendation	Apply potash fertilizer to improve potassium levels and maintain soil fertility

Source: Kaggle

Dataset: Soil Quality Dataset for India

URL: https://www.kaggle.com/datasets/nelgiriyewithana/soil-quality

Soil Sample ID	AP-GNT-2025-00971
State	Andhra Pradesh
District	Guntur
Soil Type	Red Loamy Soil
pH Value	6.3
Nitrogen (N)	Medium
Phosssùrus (K)	High
Recommendation	Apply nitrogen-rich fertilizer and organic manure to improve nitrogen levels and maintain soil fertility.

Source: Kaggle

Dataset: Indian Soil Classification Dataset

URL: https://www.kaggle.com/datasets/sudalairajkumar/indian-soil-classification-dataset

Soil Sample ID	KA-BLR-2025-01832
State	Karnataka
District	Bengaluru Rural
Soil Type	Red Loamy Soil
pH Value	6.4
Nitrogen (N)	Medium
Phosphorus (P)	High
Potassium (K)	Medium
Recommendation	Apply nitrogen-rich fertilizer and reduce potash usage

APPENDIX - C

GitHub Repo: Charan-gcr/Enhancing-farmer-productivity-through-innovative-technology-solutions

Fig d: GitHub Repository Screenshot

APPENDIX - D

Similarity Report

turnitin Page 2 of 9 - Integrity Overview

3% Overall Similarity

The combined total of all matches, including overlapping sources, for each database.

Filtered from the Report

- Bibliography

Match Groups

- **6** Not Cited or Quoted 2%
  Matches with neither in-text citation nor quotation marks
- **2** Missing Quotations 1%
  Matches that are still very similar to source material
- **0** Missing Citation 0%
  Matches that have quotation marks, but no in-text citation
- **0** Cited and Quoted 0%
  Matches with in-text citation present, but no quotation marks

Top Sources

2% Internet sources
0% Publications
0% Submitted works (Student Papers)

Integrity Flags

0 Integrity Flags for Review

No suspicious text manipulations found.

Our system's algorithms look deeply at a document for any inconsistencies that would set it apart from a normal submission. If we notice something strange, we flag it for you to review.

A Flag is not necessarily an indicator of a problem. However, we'd recommend you focus your attention there for further review.

turnitin Page 2 of 9 - Integrity Overview Submission ID [redacted]1:3408814029